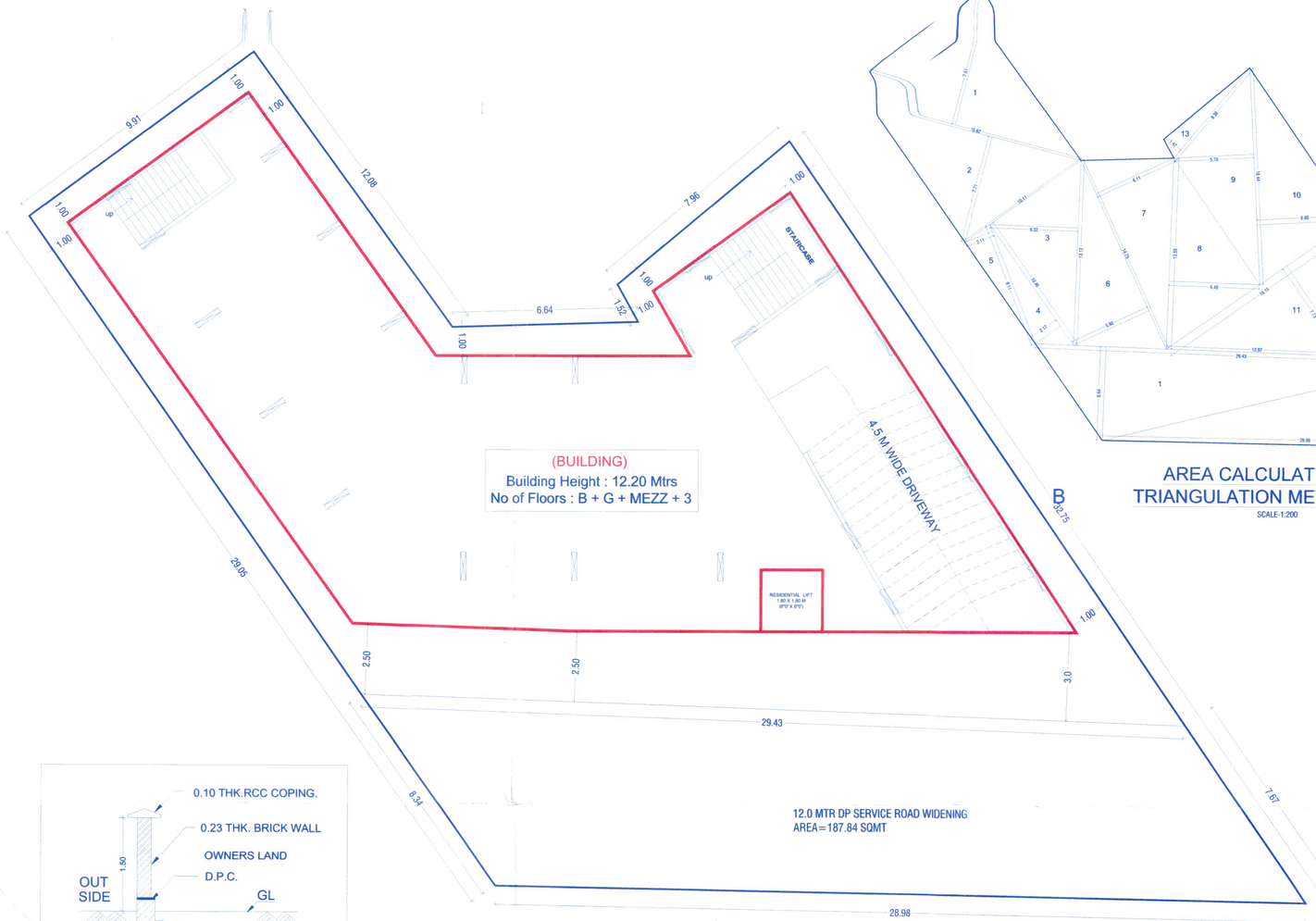

LAYOUT PLAN

SCALE-1:100

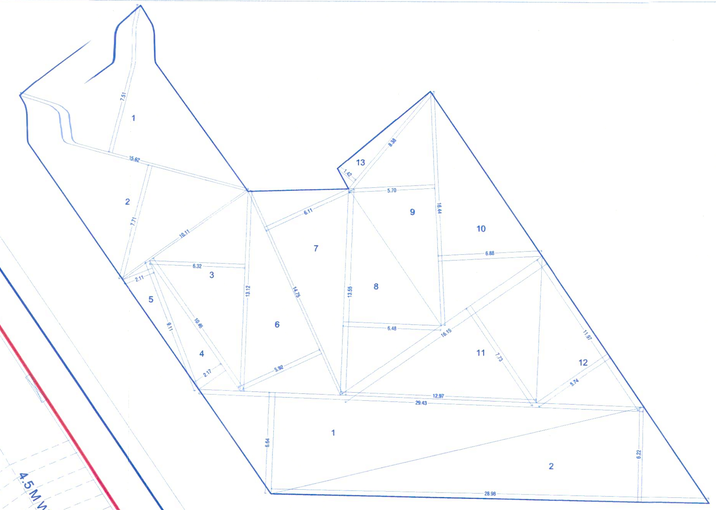

AREA CALCULATIONS BY TRIANGULATION METHOD PLAN

SCALE-1:200

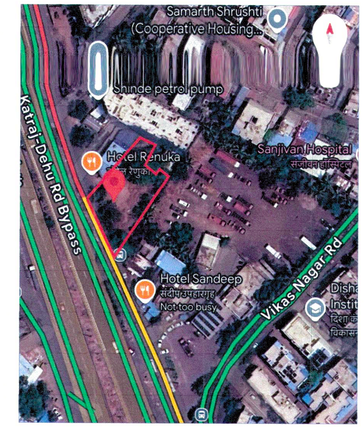

LOCATION PLAN

N.T.S

A) AREA CALCULATIONS BY TRAINGULATION METHOD

PLOT AREA				SQ.MT
DEDUCTIONS				
1	0.50	15.62	7.51	58.65
2	0.50	15.62	7.71	60.22
3	0.50	13.12	6.32	41.46
4	0.50	10.46	2.17	11.35
5	0.50	9.11	2.11	9.61
6	0.50	14.75	5.92	43.66
7	0.50	14.75	6.11	45.06
8	0.50	13.55	6.48	43.90
9	0.50	16.44	5.70	46.85
10	0.50	16.44	6.88	56.55
11	0.50	16.15	7.73	62.42
12	0.50	11.97	5.74	34.35
13	0.50	8.38	1.42	5.9498
NET PLOT AREA				514.09

B) AREA CALCULATIONS BY TRAINGULATION METHOD

ROAD AREA				SQ.MT
DEDUCTIONS				
1	0.50	29.43	6.64	97.71
2	0.50	28.98	6.22	90.13
ROAD WIDENING AREA				187.84

TOTAL PLOT AREA (A + B) =514.09 + 187.84 = 701.93 SQ.M.

STAMP OF APPROVAL

Sanctio
Subject
Commencement No. B.P./Kivale/46/25
Subject to conditions mentioned in the
Office Order No.
avan dated 30/03/2025
Pimpri
Date : 30/03/2025

Pimpri Chinchwad Municipal Corporation ESTD. 11/10/82 Pincode-411 018

For Ward Officer
B : Ward
PCMC., Chinchwad, Pune-411 033.

O. C. Signed by
B. Ward Officer

A) AREA STATEMENT	SQ.M.
1. AREA OF PLOT (minimum area of a, b, c to be considered)	700.00
(a) As per ownership document (7/12, cts extract,P.O.A.)	700.00
(b) As per measurement sheet	701.93
(c) As per site	701.93
2. DEDUCTIONS FOR	
(a) Proposed D.P/ Road Widening Area/ Service Road / Highway Widening	187.84
(b) Any D.P. Reservation Area	0.00
TOTAL (a+b)	0.00
3. BALANCE AREA OF PLOT (1-2)	512.16
4. AMENITY SPACE (If Applicable)	
(A) Required -	0.00
(b) Adjustment of 2(b), if any -	0.00
(c) Balance Proposed -	0.00
5. NET PLOT AREA (3-4 (C)	512.16
6. RECREATIONAL OPEN SPACE (IF APPLICABLE)	
(a) Required -	0.00
(b) Proposed -	0.00
7. INTERNAL ROAD AREA	0.00
8. PLOTABLE AREA (If Applicable)	0.00
9. BUILT UP AREA WITH REFERENCE TO BASIC F.S.I. AS PER FRONT ROAD WIDTH (512.16 X 2.00)	1024.32
10. ADDITION OF FSI ON PAYMENT OF PREMIUM	
(a) Maximum Permissible Premium FSI - Based On Road Width / TOD Zone.	0.00
(b) Proposed FSI On Payment Of Premium.	0.00
11. IN-SITU FSI / TDR LOADING	
(a) In-Situ Area Against D.P. Road [2.0 x sr. no. 2 (a)],if any	0.00
(b) In-Situ Area Against Amenity Space If Handed Over [2.00 or 1.85 x Sr. No. 4 (b) and /or (c)]	0.00
(c) TDR Area	0.00
(d) Total In-Situ / TDR Loading Proposed (11 (a)+(b)+(c))	0.00
12. ADDITIONAL FSI AREA UNDER CHAPTER NO. 7	0.00
13. TOTAL ENTITLEMENT OF FSI IN THE PROPOSAL	
(a) [9 + 10(b)+11(d)] or 12 Whichever Is Applicable.	1024.32
(b) Ancillary Area FSI Up To 60% Or 80% With Payment Of Charges.	683.30
(c) Total Entitlement (a+b)	1707.62
14. Maximum Utilization Limit Of F.S.I.(Building Potential) Permissible As Per Road Width {(As Per Regulation No. 6.1 or 6.2 or 6.3 or 6.4 As Applicable) x 1.6 or 1.8}	4.80
15. TOTAL BUILT-UP AREA IN PROPOSAL. (EXCLUDING AREA AT SR.NO.17 B)	
(a) Existing Built-Up Area.	
i) Completed.	0.00
ii) Residential	0.00
iii) Commercial	0.00
(b) Proposed Built-Up Area (As Per 'P-Line')	
i) Completed.	0.00
ii) Residential	728.88
iii) Commercial	618.34
(c) Total (a+b)	1347.22
16. F.S.I. CONSUMED (15/13) (SHOULD NOT BE MORE THAN SERIAL NO.14 ABOVE.)	0.788
17. AREA FOR INCLUSIVE HOUSING, IF ANY	
(a) Required (20% of sr.no.5)	0.00
(b) Proposed	0.00

CERTIFICATE OF AREA

CERTIFICATE OF AREA: CERTIFIED THAT THE PLOT UNDER REFERENCE WAS SURVEYED BY ME ON_____ AND THE DIMENSIONS OF SIDES ETC. OF PLOT STATED ON PLAN ARE AS MEASURED ON SITE AND THE AREA SO WORKED OUT TALLIES WITH THE AREA STATED IN DOCUMENT OF OWNERSHIP/ T.P. SCHEME RECORDS/ LAND RECORDS DEPARTMENT/CITY SURVEY RECORDS.

SIGNATURE
(name of architect/ licensed engineer/ supervisor.)

LEGEND

PLOT BOUNDARY SHOWN BLACK
PROPOSED WORK SHOWN RED
DRAINAGELINE SHOWN RED DOTTED
WATERLINE SHOWN BLACK DOTTED
EXISTING TO BE RETAINED HATCHED
DEMOLISHION SHOWN HATCHED YELLOW

OWNER'S SIGN:

OWNER'S DECLARATION –
I/WE UNDERSIGNED HEREBY CONFIRM THAT I/WE WOULD ABIDE BY PLANS APPROVED BY AUTHORITY / COLLECTOR. I/WE WOULD EXECUTE THE STRUCTURE AS PER APPROVED PLANS. ALSO I/WE WOULD EXECUTE THE WORK UNDER SUPERVISION OF PROPER TECHNICAL PERSON SO AS TO ENSURE THE QUALITY AND SAFETY AT THE WORK SITE.

OWNER'S NAME:

M/S PRASIDDHI DEVELOPERS THROUGH PARTNER
MR. NIKHIL GANESH CHAVAN & OTHER

PROJECT:

SURVEY NO :37/ 3/ 2(P) & 37 /3 /2 /2 CTS NO :

PLOT NO : VILLAGE :- KIWALE

ARCHITECT / LICENSED ENGINEER: LICENSED ENGINEER.SIGN

AR.NAZNEEN AHMED
CA/2010/50276
ARCHITECTURAL AND INTERIOR CONSULTANT
FLAT NO. -206, HAWARE LEGACY GRACE, NEAR HOTEL AMBIENCE KASPATE WASTI ROAD, KALEWADI, PIMPRI CHINCHWAD, PUNE - 411030
EMAIL. - nznap@gmail.com
MOBILE- 8554929580

AR. NAZNEEN AHMED CA/2010/50276 ARCHITECT

JOB NO.	DRG.NO.	SCALE	DRAWN BY	CHECKED BY
		1:100	AR.SRUSHTI	AR.NAZNEEN
PCMC/0238/2025/ZONE B/KIVALE/PRB-KVL18/1/FRESH				
INWARD NO.			DATE	18 MAR 2025
KEY NO.			SHEET NO.	1 / 3

N

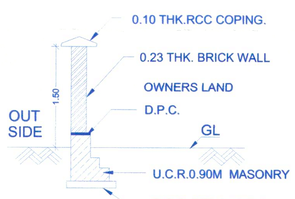

COMPOUND WALL SECTION

FORM OF STATEMENT - 1
[SR. NO. 8 (a)(iii)]
EXISTING BUILDING TO BE RETAINED

EXISTING BUILDING NO.	FLOOR NO.	PLINTH AREA	TOTAL FLOOR AREA OF EXISTING BUILDING	USE / OCCUPANCY OF FLOOR
BUILDING	N.A	N.A	N.A	N.A

FORM OF STATEMENT-2

WING / BUILDING NAME	FLOOR	BUILT UP AREA COMMERCIAL	RESIDENTIAL	TOTAL	TENEMENT	SHOP	OFFICE
BUILDING	BASEMENT FLOOR	0.00	0.00	0.00	0	0	0
	GROUND FLOOR	178.67	31.78	210.45	0	6	0
	MEZZANINE FLOOR	91.95	0.00	91.95	0	0	0
	FIRST FLOOR	347.72	0.00	347.72	0	7	0
	SECOND FLOOR	0.00	348.55	348.55	3	0	0
	THIRD FLOOR	0.00	348.55	348.55	3	0	0
	TERRACE FLOOR	0.00	0.00	0.00	0	0	0
	TOTAL	618.34	728.88	1347.22	6	13	0

FORM OF STATEMENT-3
SR.NO.9(A) - PROPOSED BUILDING
AREA DETAILS OF APARTMENT

BLDG NO.	FLOOR NUMBER	APARTMENT NO.	CARPET AREA OF APARTMENT	AREA OF BALCONY ATTACHED TO APPARTMENT (ENC.) BALCONY	OPEN BALCONY	AREA OF DOUBLE HEIGHT TERRACE ATTACHED TO FLAT
BUILDING	GROUND FLOOR	SHOP-1	24.80	0.00	0.00	0.00
		MEZZANINE1	14.35	0.00	0.00	0.00
		SHOP-2	23.36	0.00	0.00	0.00
		MEZZANINE-2	11.45	0.00	0.00	0.00
		SHOP-3	21.45	0.00	0.00	0.00
		MEZZANINE-3	9.54	0.00	0.00	0.00
		SHOP-4	19.91	0.00	0.00	0.00
		SHOP-5	30.17	0.00	0.00	0.00
		MEZZANINE-5	14.86	0.00	0.00	0.00
		SHOP-6	38.52	0.00	0.00	0.00
		MEZZANINE-6	18.62	0.00	0.00	0.00
		STORE	14.46			
	1ST FLOOR	SHOP-101	24.80	0.00	0.00	0.00
		SHOP-102	23.26	0.00	0.00	0.00
		SHOP-103	21.45	0.00	0.00	0.00
		SHOP-104	19.91	0.00	0.00	0.00
		SHOP-105	30.17	0.00	0.00	0.00
		SHOP-106	38.52	0.00	0.00	0.00
		SHOP-107	68.91	0.00	0.00	0.00
			439.1900			
	2ND FLOOR	201	92.16	10.31	15.41	0.00
		202	77.31	0.00	8.49	0.00
		203	61.53	0.00	9.65	0.00
	3RD FLOOR	301	92.16	10.31	15.41	0.00
		302	77.31	0.00	8.49	0.00
		303	61.53	0.00	9.65	0.00

WATER REQUIRED STATEMENT

FOR COMMERCIAL GROUND FLOOR = 270.62 / 3 = 90.20
91 X 45 Lit.= 4095.00 Lit.
REMAINING FLOOR = 347.72 / 6 = 57.95
58 X 45 Lit.= 2610.00 Lit.
TOTAL COMM. REQUIRED = 4095.0+2610.0 = 6705.00 Lit.
FOR RESIDENTIAL TENEMENTS = 06 NOS
06 X 5 (Person) = 30 Persons
30 Persons X 135 lit./Person / Day = 4050.00 Lit.
Total Comm.+ Resi.= 6705.00+ 4050.00 Lit.
Total Overhead Water Tank Capacity Req.= 10755.00 Lit.
U.G.W.Tank Capacity Req.= 10755.00X2.00 = 21510.00 Lit.
Total Underground W.Tank Capacity Req. = 21510.00 Lit.

TABALE NO.12-O-SANITATION REQUIREMENTS - Common Toilets in Shopping Malls

BUILDING USE	COMMERCIAL			
	REQ.BY RULE FOR			
NAME	comm./Market/ Mall Building	REQUIRED	MALE	FEMALE
NO.OF PERSONS	(270.62/3 = 90.20)+(347.72/6 =57.95) 149 PERSONS , SAY = 149/2 = 75 PERSONS	WATER COLSET	3	4
	FOR MALE MALE = 4 FOR 66-100, MALE = 75 x 4/100 = 3.0 SAY 3	URINALS	3	-
		PROVIDED		
	FOR FEMALE FEMALE = 5 FOR 56-77, FEMALE = 75 x 5/100 = 3.75 SAY 4		MALE	FEMALE
		WATER COLSET	3	4
		URINALS	3	-

WATER REQUIREMENT

TANK		REQUIRED CAPACITY (LIT)	PROPOSED CAPACITY (LIT)
OHWT	Residential+Comm.	10755.00	15000.00
	FIRE REQUIREMENT	0.00	0.00
	TOTAL	10755.00	15000.00
UGWT	Residential+Comm.	21510.00	22000.00
	FIRE REQUIREMENT	0.00	0.00
	TOTAL	21510.00	22000.00

U. G. W. TANK SECTION A-A

U. G. W. TANK PLAN

PARKING CALCULATION

TYPE	CARPET AREA / FSI (M2)	TNMTS.(NOS) UNIT	PROP.	CAR (NOS) BY RULE	REQD.	SCOOTER (NOS.) BY RULE	REQD.
RESIDENTIAL	40 - 80	2	4	1	2	2	4
RESIDENTIAL	80 - 150	1	2	1	2	1	2
COMMERCIAL	439.19	100	0	1	4	6	24
TOTAL REQD.(NOS.)					8		30
TOTAL REQD. AREA					100.00		60
TOTAL PROP. AREA					160.0 sq.m		
5% VISITORS PARKING (62.00 RESI.)					3.10 sq.m		
TOTAL REQUIRED AREA					163.10 sq.m		
TOTAL PROPOSED AREA					165.00 sq.m		

PARKING STATEMENT

REQUIRED PARKING		PROPOSED PARKING COVERED	OPEN	TOTAL
CAR	8	10	0	10
SCOOTER	30	20	0	20

REQUIRED ELECTRICAL VEHICLE PARKING	
COMM. CAR 4 X 25% = 1.00	RESI. CAR 4 X 20% = 0.80
TOTAL REQUIRED CAR = 1 CAR	TOTAL REQUIRED CAR = 1 CAR

ANCILLARY F.S.I. STATEMENT

BASIC FSI (512.16 X 2.00)		= 1024.32 Sq.m
PERMISIBLE FSI for Ancillary		= 1024.32 Sq.m
COMMERCIAL FSI	= 618.34 ÷ 1.80	= 343.52 Sq.m
ENTITLEMENT OF FSI	= 1024.32 – 343.52	= 680.80 Sq.m
COMM. ANCILLERY FSI	343.52 X 0.80	= 274.82 Sq.m
RESI. ANCILLERY FSI	680.80 X 0.60	= 408.48 Sq.m
TOTAL PERMISSIBLE ANCILLERY FSI		= 683.30 Sq.m

SCHEDULE OF OPENING- DOORS

NAME	L X H	NOS
D	1.05 X 2.10	
D1	0.90 X 2.10	
D2	0.75 X 2.10	
SD	2.10 X 2.10	

SCHEDULE OF OPENING- WINDOWS

W	2.25 X 1.50	
W1	1.80 X 1.50	
W2	1.50 X 0.90	
W4	1.35 X 0.90	
W5	1.20 X 0.90	
V	0.60 X 0.90	